CPT: cptu5
Total depth: 26.01 m, Date: 04/03/2026
Surface Elevation: 0.00 m, Est. GWL: 4.20 m
Coords: X:744158.15, Y:4046982.90
Cone Type:
Cone Operator:

Project: NUEVA TERMINAL DE CONTENEDORES FASE 1.2
Location: PUERTO DE CÁDIZ. CÁDIZ

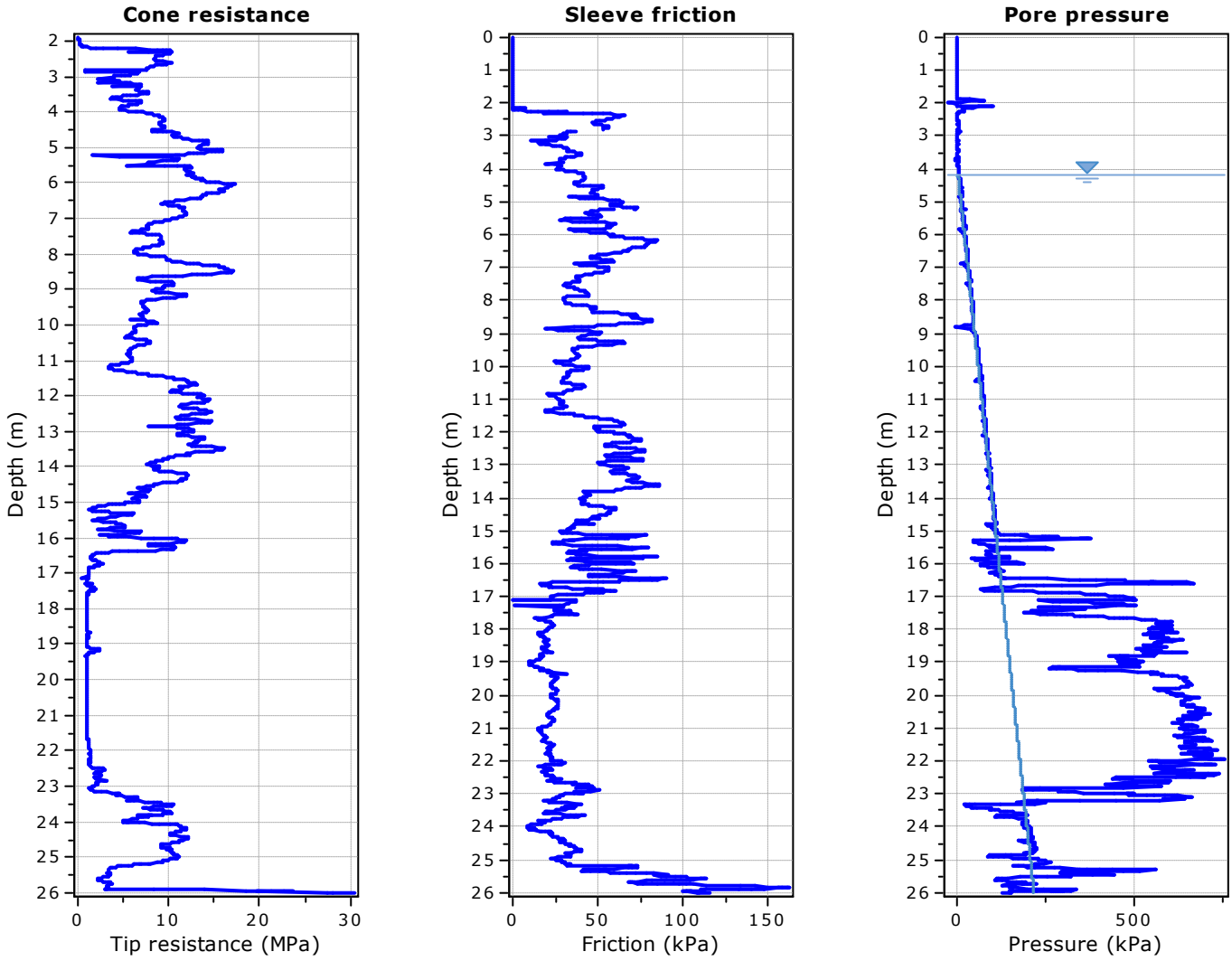

The plot below presents the cross correlation coeficient between the raw qc and fs values (as measured on the field). X axes presents the lag distance (one lag is the distance between two sucessive CPT measurements).

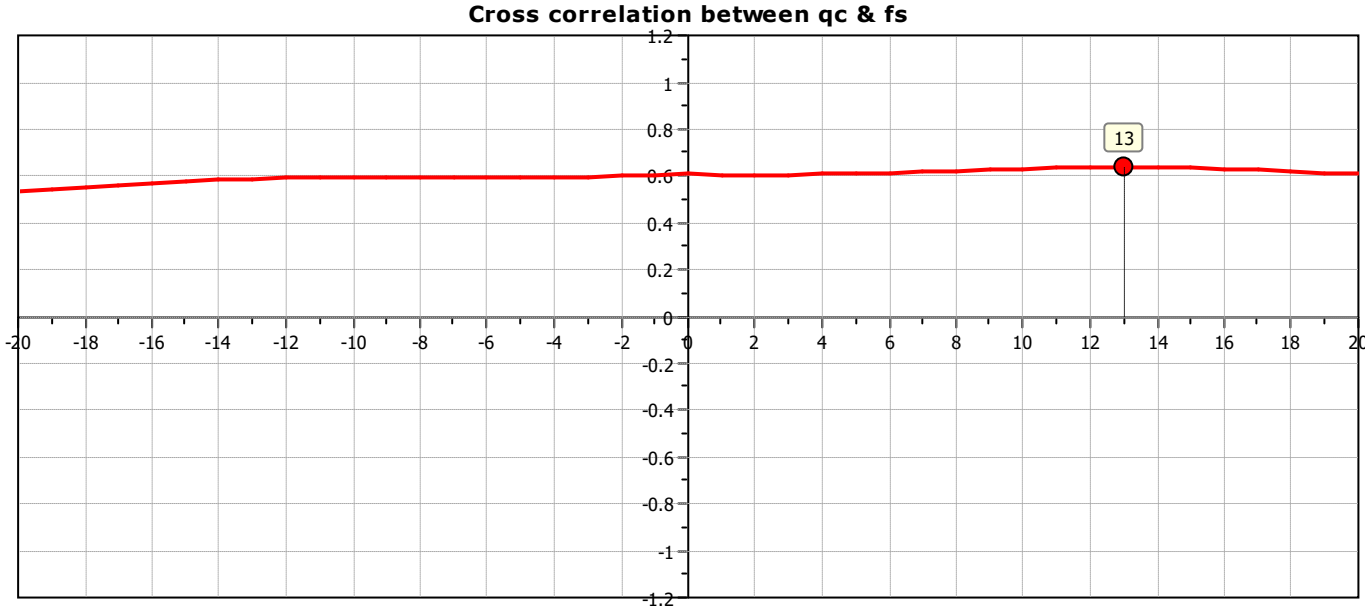

SBT - Bq plots

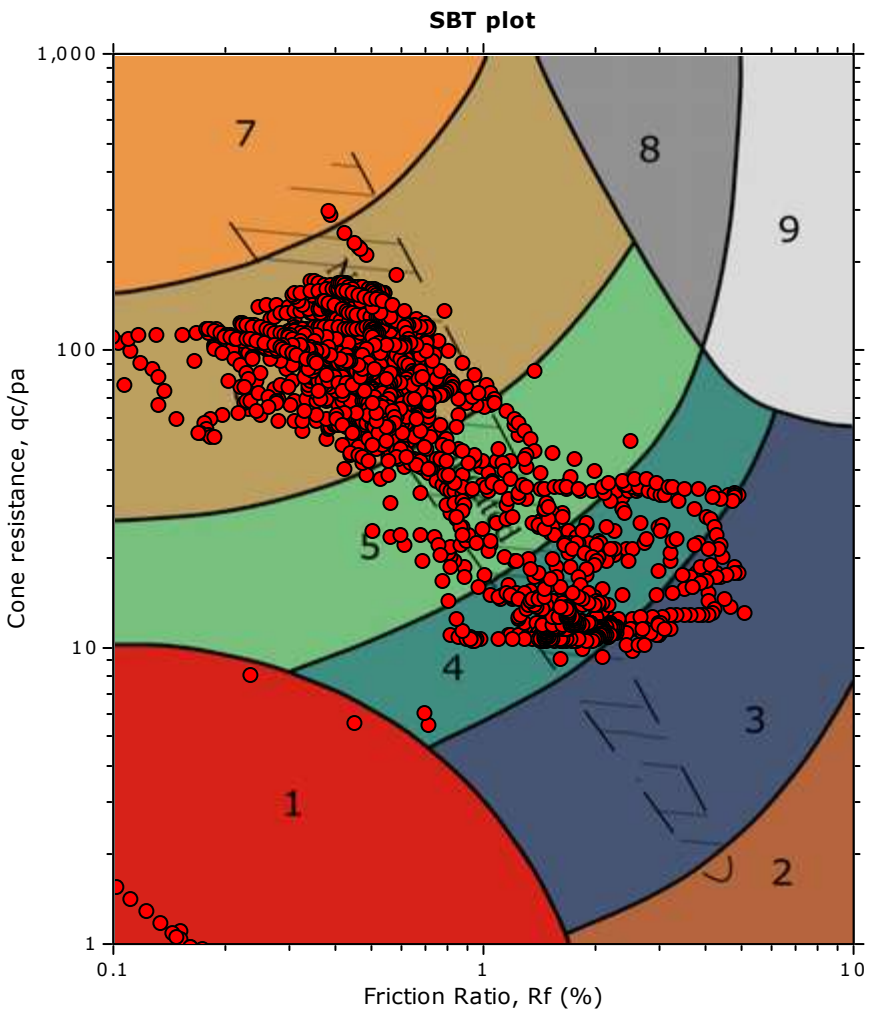

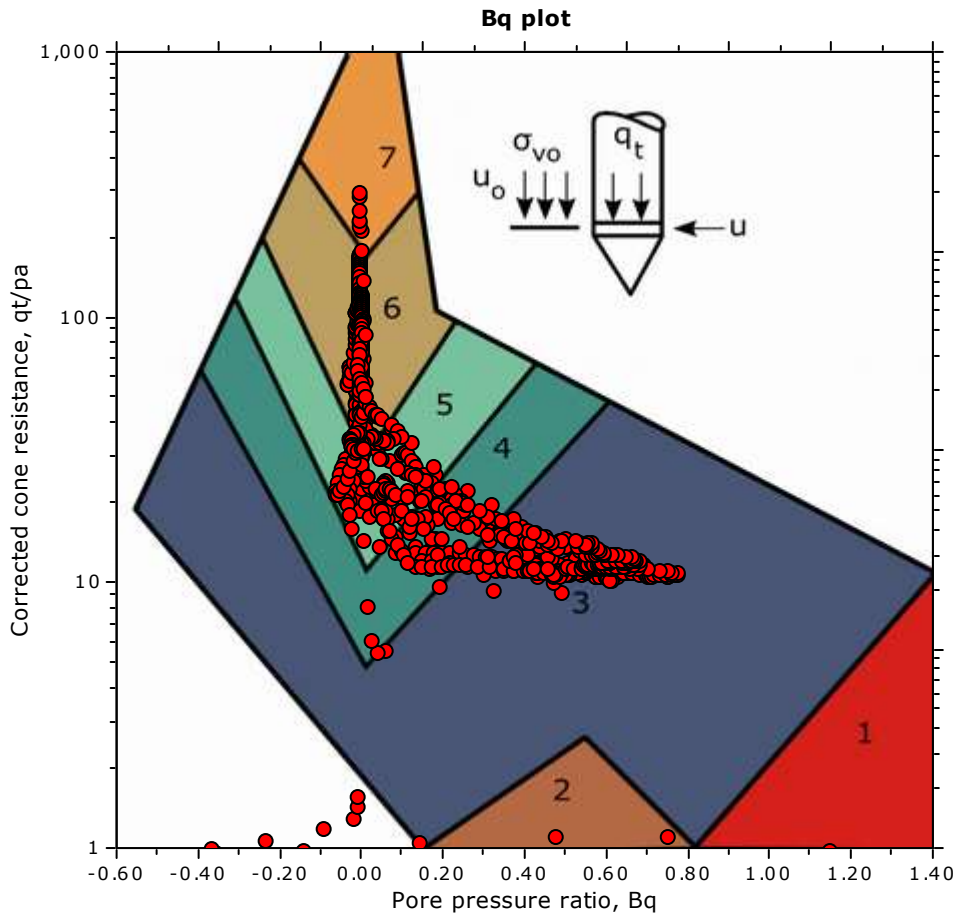

SBT legend

1. Sensitive fine grained
2. Organic material
3. Clay to silty clay
4. Clayey silt to silty clay
5. Silty sand to sandy silt
6. Clean sand to silty sand
7. Gravelly sand to sand
8. Very stiff sand to clayey sand
9. Very stiff fine grained

SBT - Bq plots (normalized)

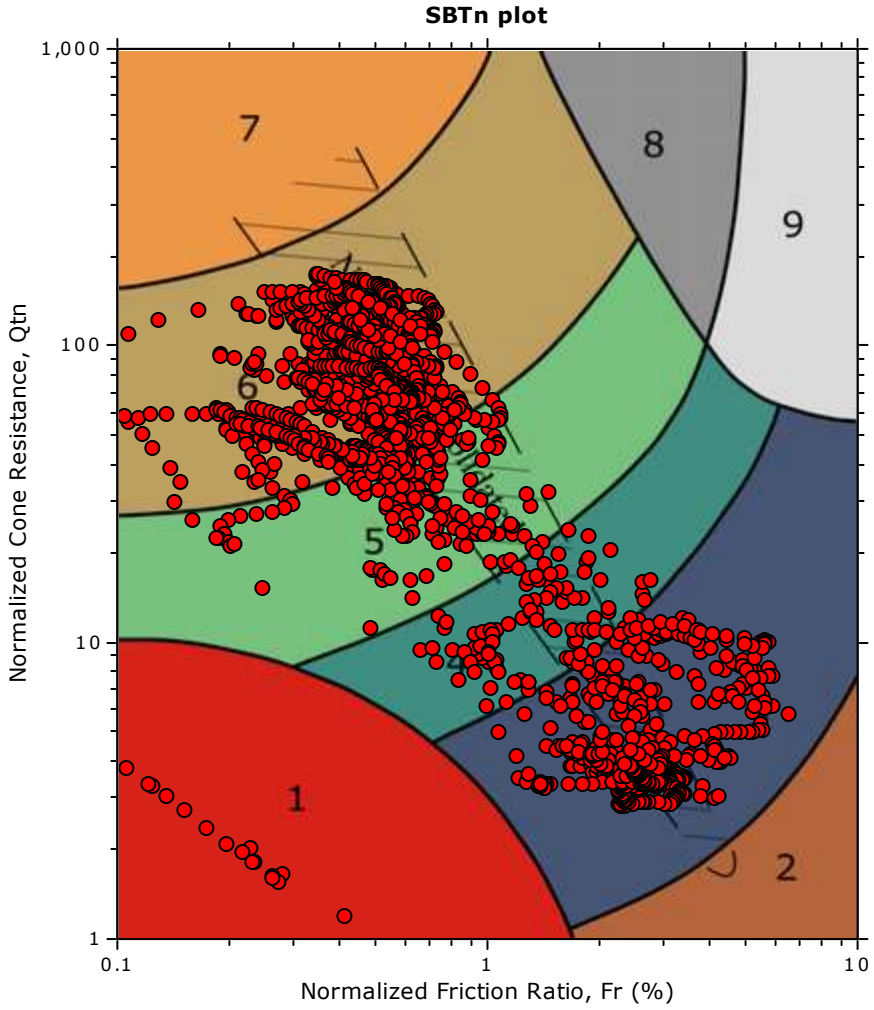

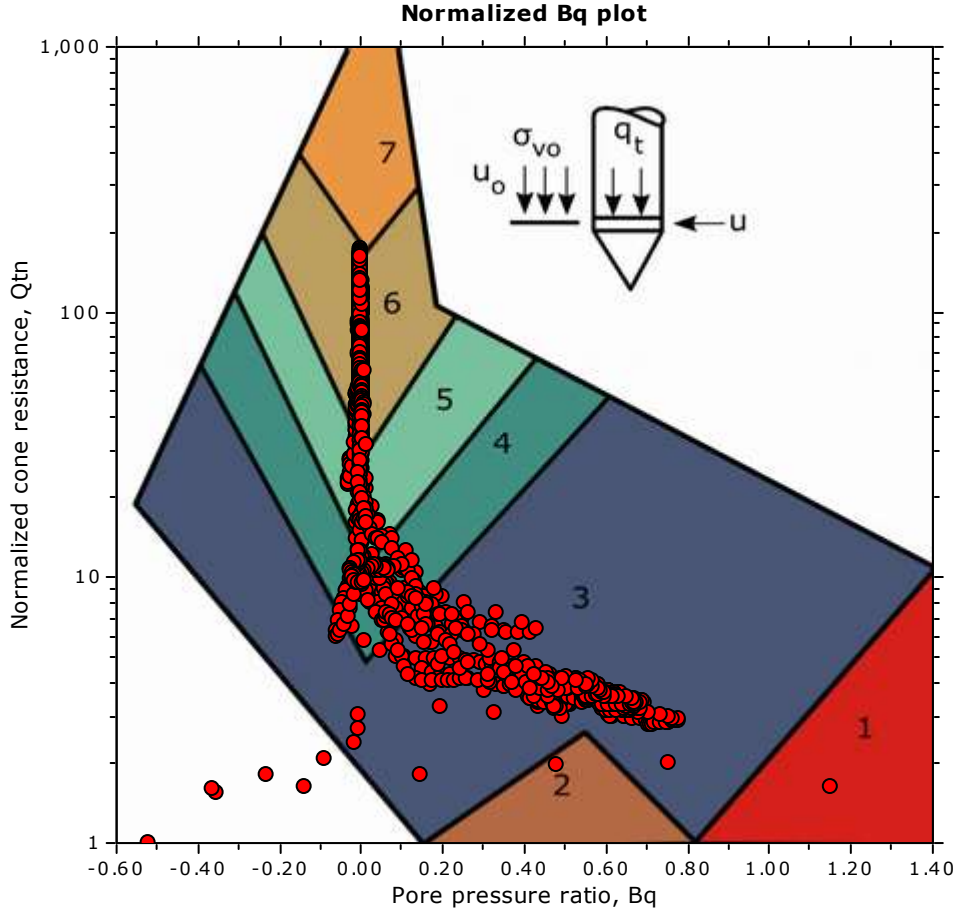

SBTn legend

- 1. Sensitive fine grained
- 2. Organic material
- 3. Clay to silty clay
- 4. Clayey silt to silty clay
- 5. Silty sand to sandy silt
- 6. Clean sand to silty sand
- 7. Gravelly sand to sand
- 8. Very stiff sand to clayey sand
- 9. Very stiff fine grained

Bq plots (Schneider)

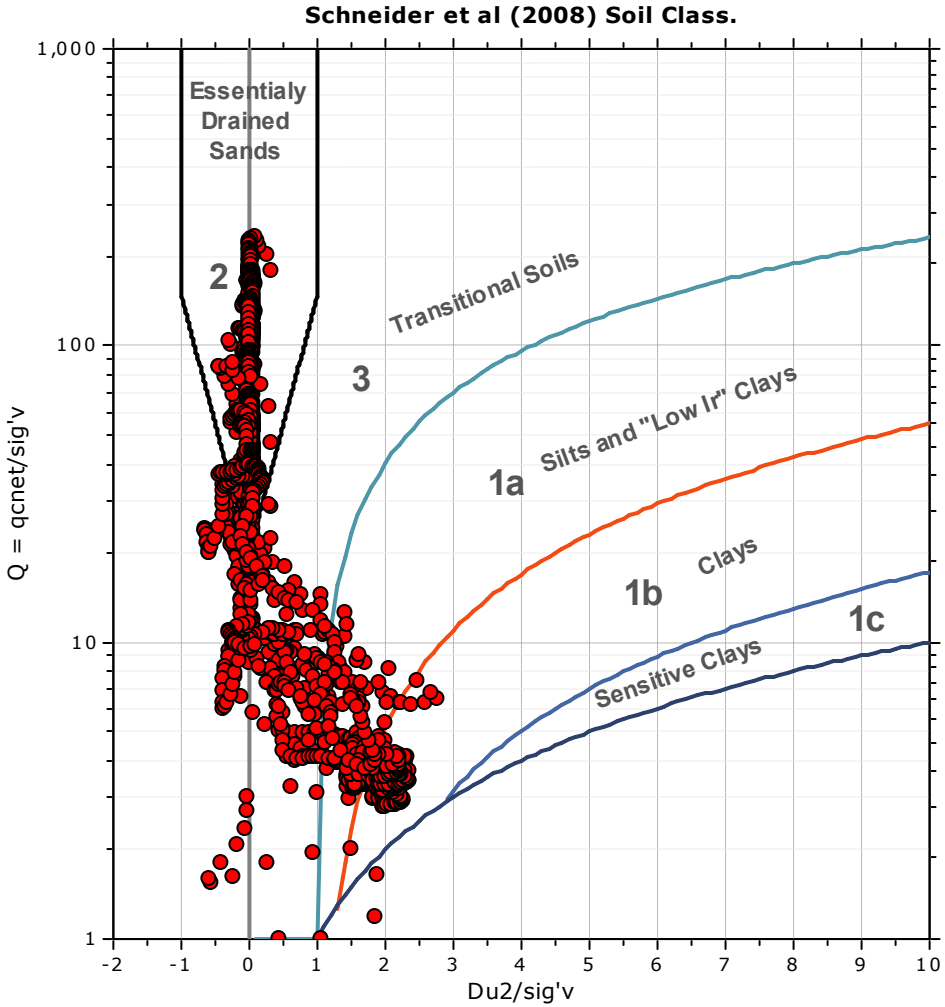

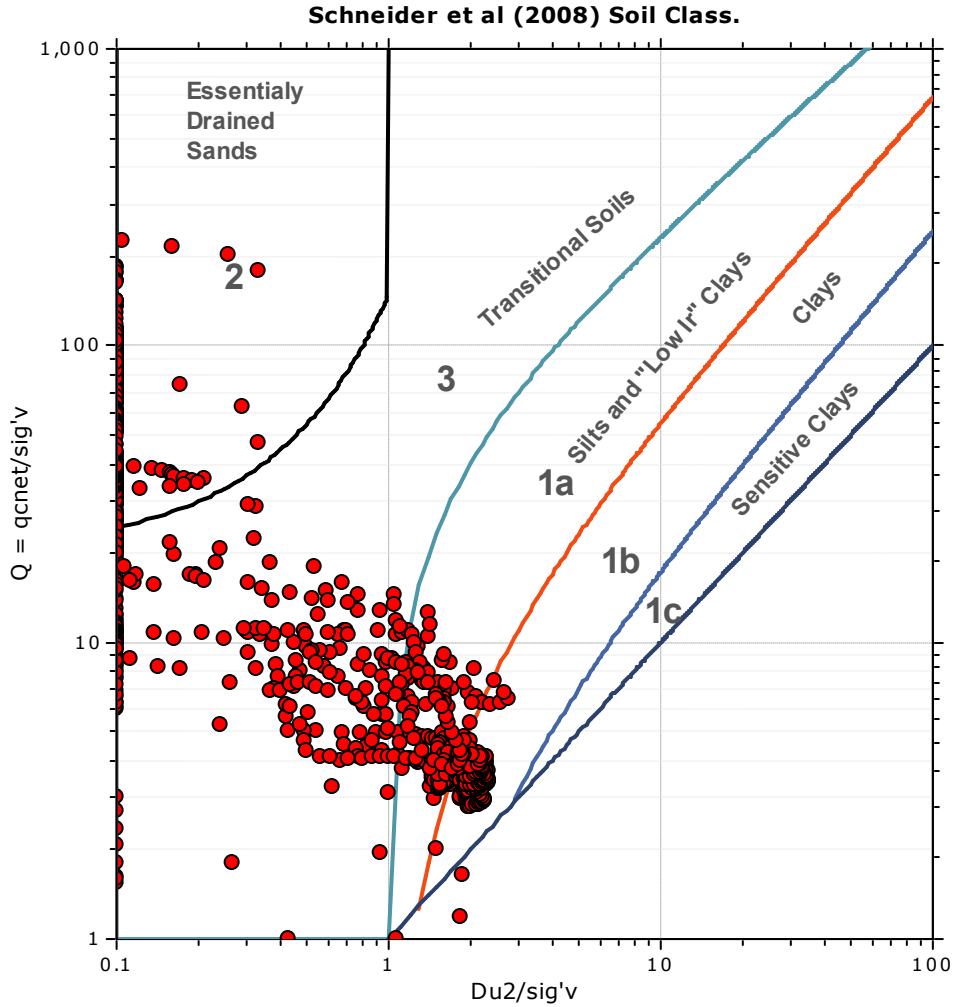

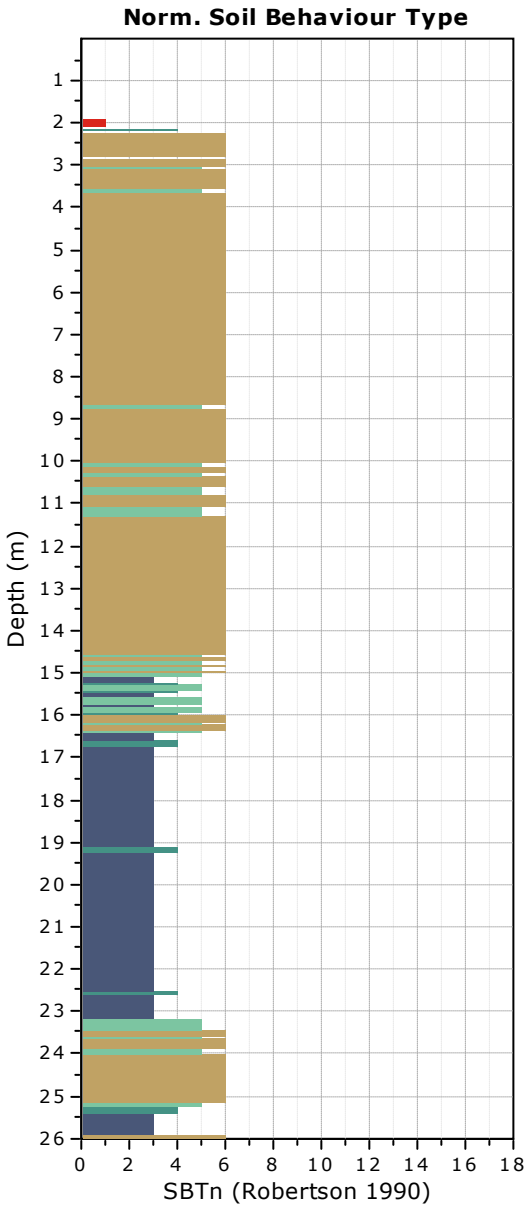

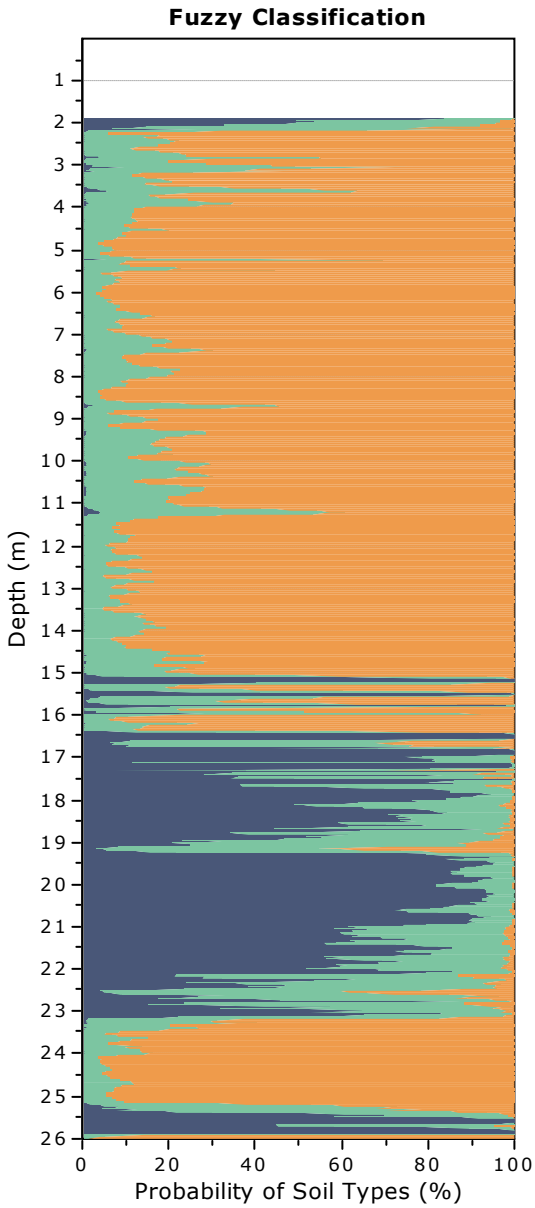

Fuzzy classifiaction legend

- Highly probable clayey soil
- Highly probable mixture soil
- Highly probable sandy soil

CPT: cptu5
Total depth: 26.01 m, Date: 04/03/2026
Surface Elevation: 0.00 m, Est. GWL: 4.20 m
Coords: X:744158.15, Y:4046982.90
Cone Type:
Cone Operator:

Project: NUEVA TERMINAL DE CONTENEDORES FASE 1.2
Location: PUERTO DE CÁDIZ. CÁDIZ

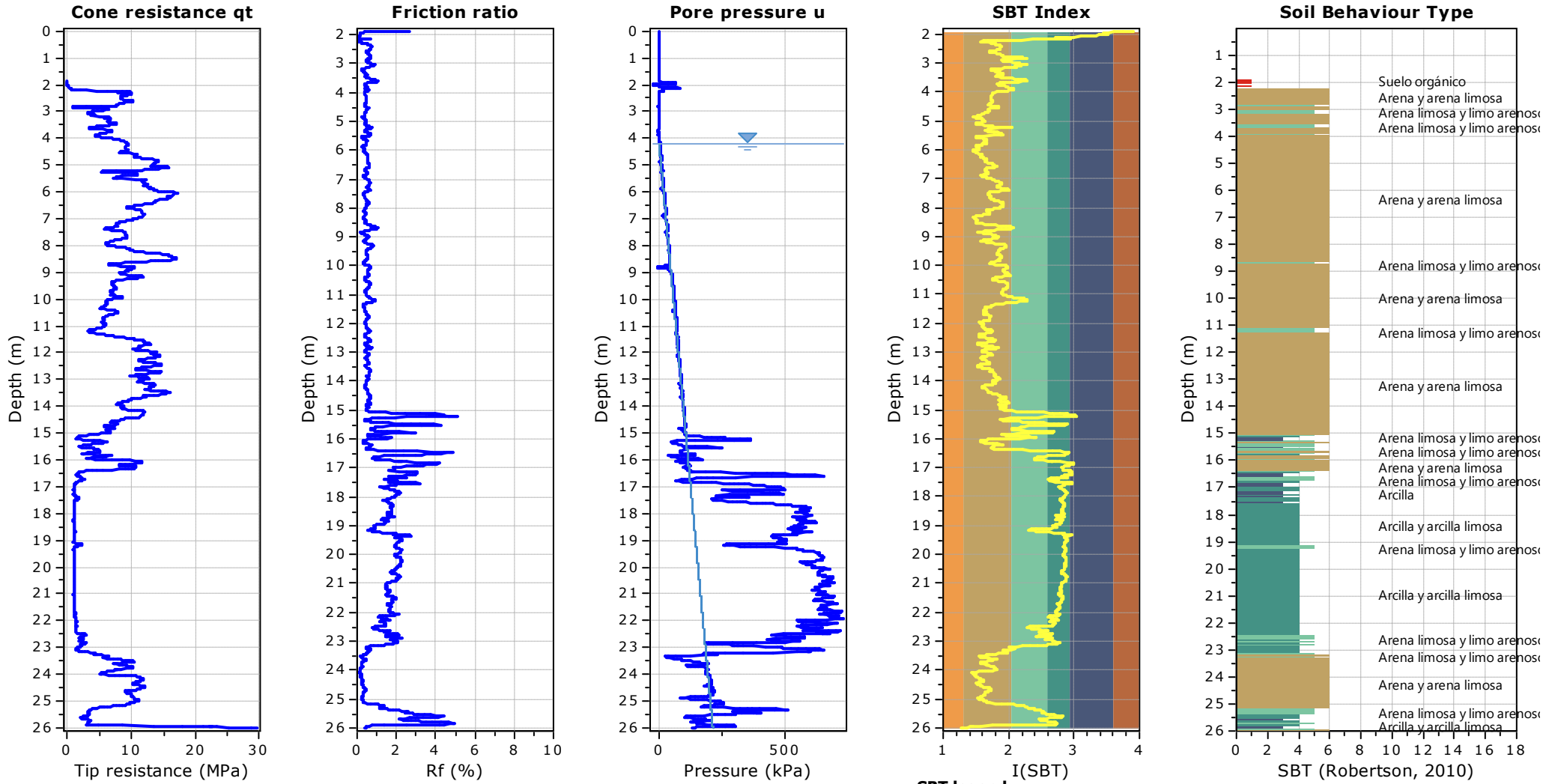

SBT legend

1. Sensitive fine grained
2. Organic material
3. Clay to silty clay
4. Clayey silt to silty clay
5. Silty sand to sandy silt
6. Clean sand to silty sand
7. Gravely sand to sand
8. Very stiff sand to clayey sand
9. Very stiff fine grained

CPT: cptu5

Total depth: 26.01 m, Date: 04/03/2026

Surface Elevation: 0.00 m, Est. GWL: 4.20 m

Coords: X:744158.15, Y:4046982.90

Cone Type:

Cone Operator:

Project: NUEVA TERMINAL DE CONTENEDORES FASE 1.2

Location: PUERTO DE CÁDIZ. CÁDIZ

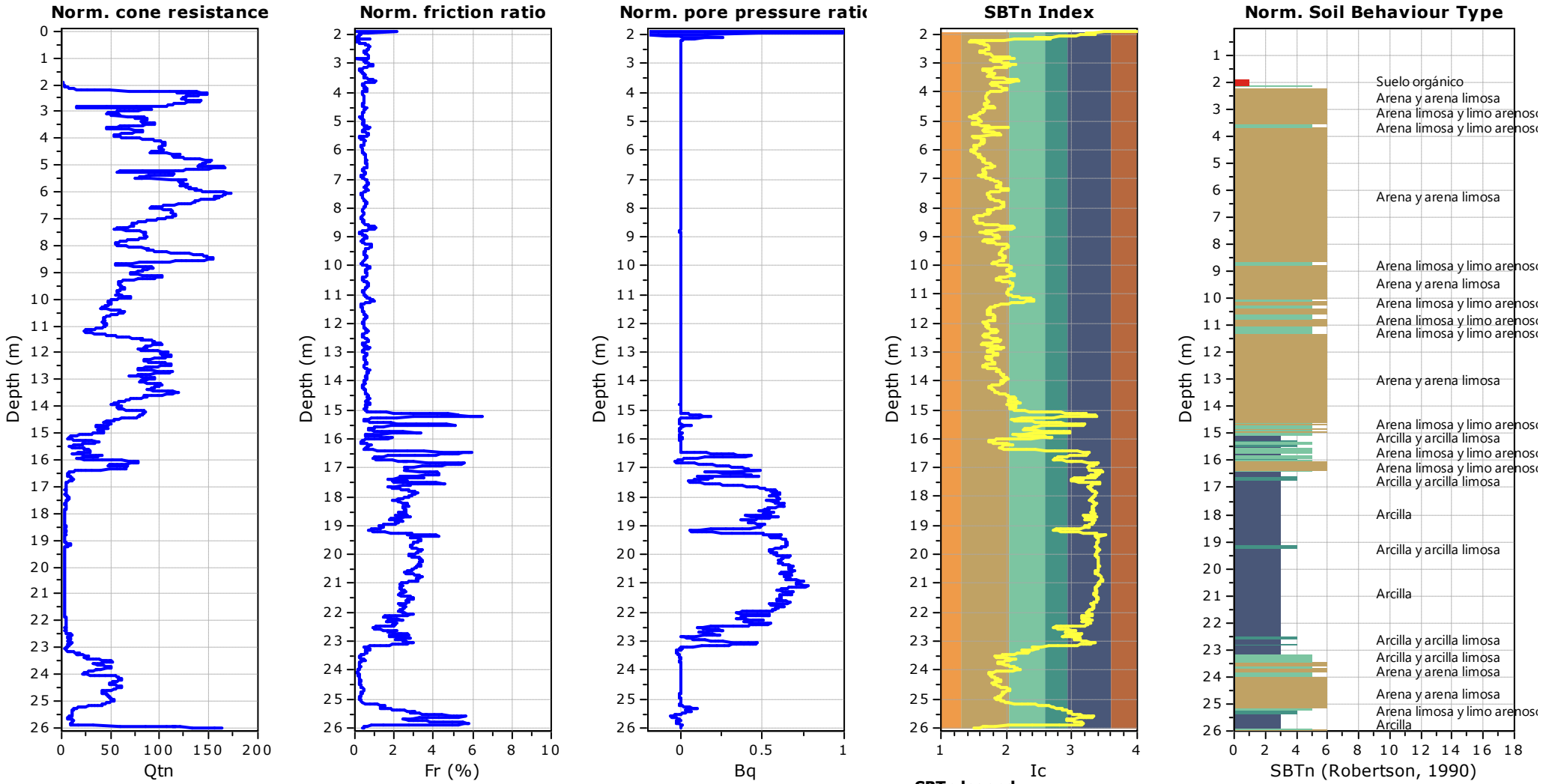

SBTn legend

1. Sensitive fine grained
2. Organic material
3. Clay to silty clay
4. Clayey silt to silty clay
5. Silty sand to sandy silt
6. Clean sand to silty sand
7. Gravely sand to sand
8. Very stiff sand to clayey sand
9. Very stiff fine grained

CPT: cptu5
Total depth: 26.01 m, Date: 04/03/2026
Surface Elevation: 0.00 m, Est. GWL: 4.20 m
Coords: X:744158.15, Y:4046982.90
Cone Type:
Cone Operator:

Project: NUEVA TERMINAL DE CONTENEDORES FASE 1.2
Location: PUERTO DE CÁDIZ. CÁDIZ

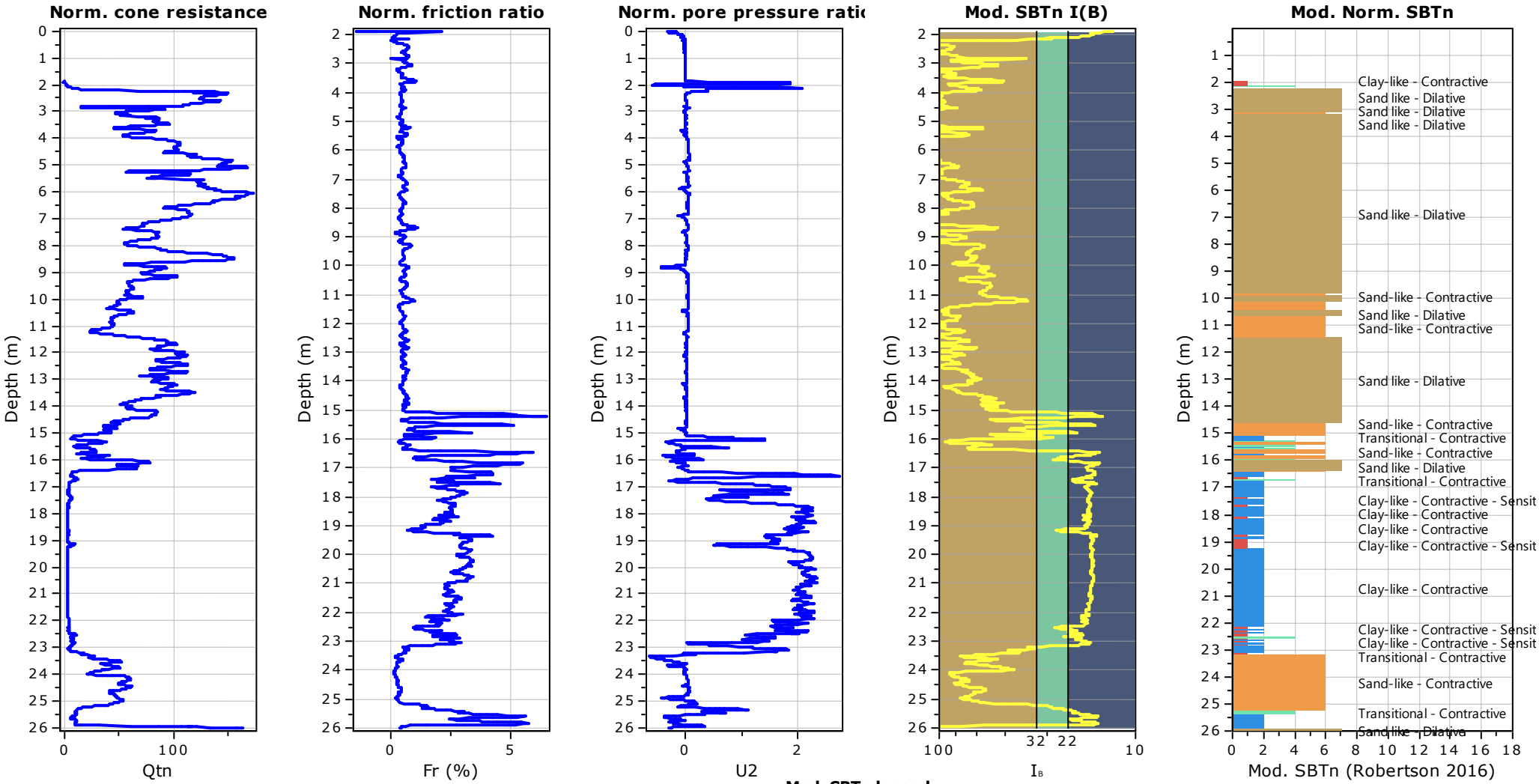

Mod. SBTn legend

1. CCS: ClayLike - Contractive, Sensitive
2. CC: Clay-like - Contractive
3. CD: Clay-Like: Dilative
4. TC: Transitional - Contractive
5. TD: Transitional - Dilative
6. SC: Sand-like - Contractive
7. SD: Sand-like - Dilative

Updated SBTn plots

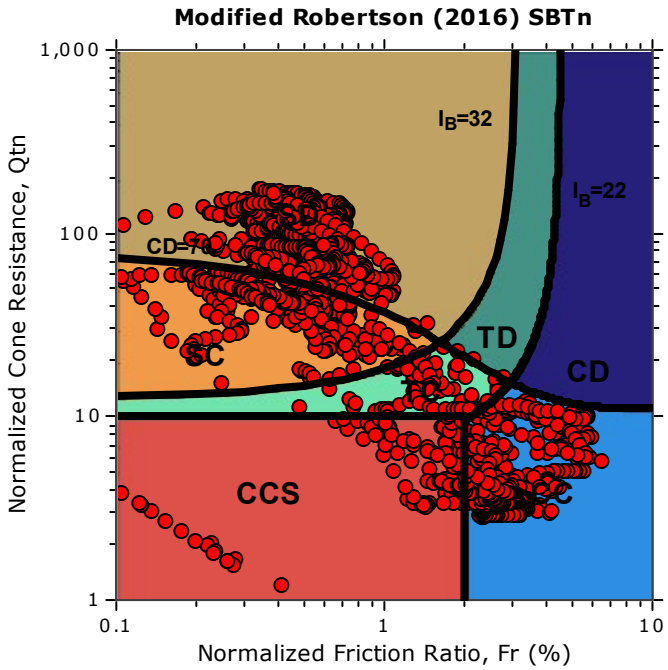

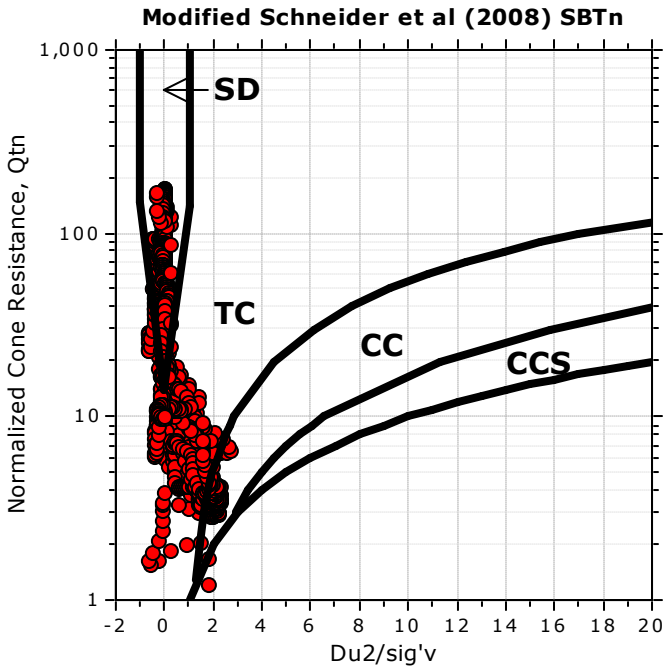

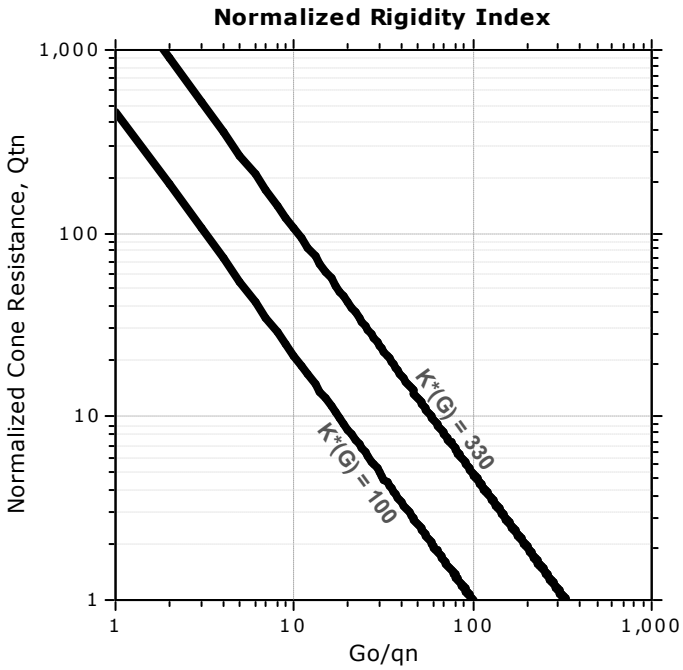

CCS: Clay-like - Contractive - Sensitive
CC: Clay-like - Contractive
CD: Clay-like - Dilative
TC: Transitional - Contractive
TD: Transitional - Dilative
SC: Sand-like - Contractive
SD: Sand-like - Dilative

K(G) > 330: Soils with significant microstructure (e.g. age/cementation)

CPT: cptu5
Total depth: 26.01 m, Date: 04/03/2026
Surface Elevation: 0.00 m, Est. GWL: 4.20 m
Coords: X:744158.15, Y:4046982.90
Cone Type:
Cone Operator:

Project: NUEVA TERMINAL DE CONTENEDORES FASE 1.2
Location: PUERTO DE CÁDIZ. CÁDIZ

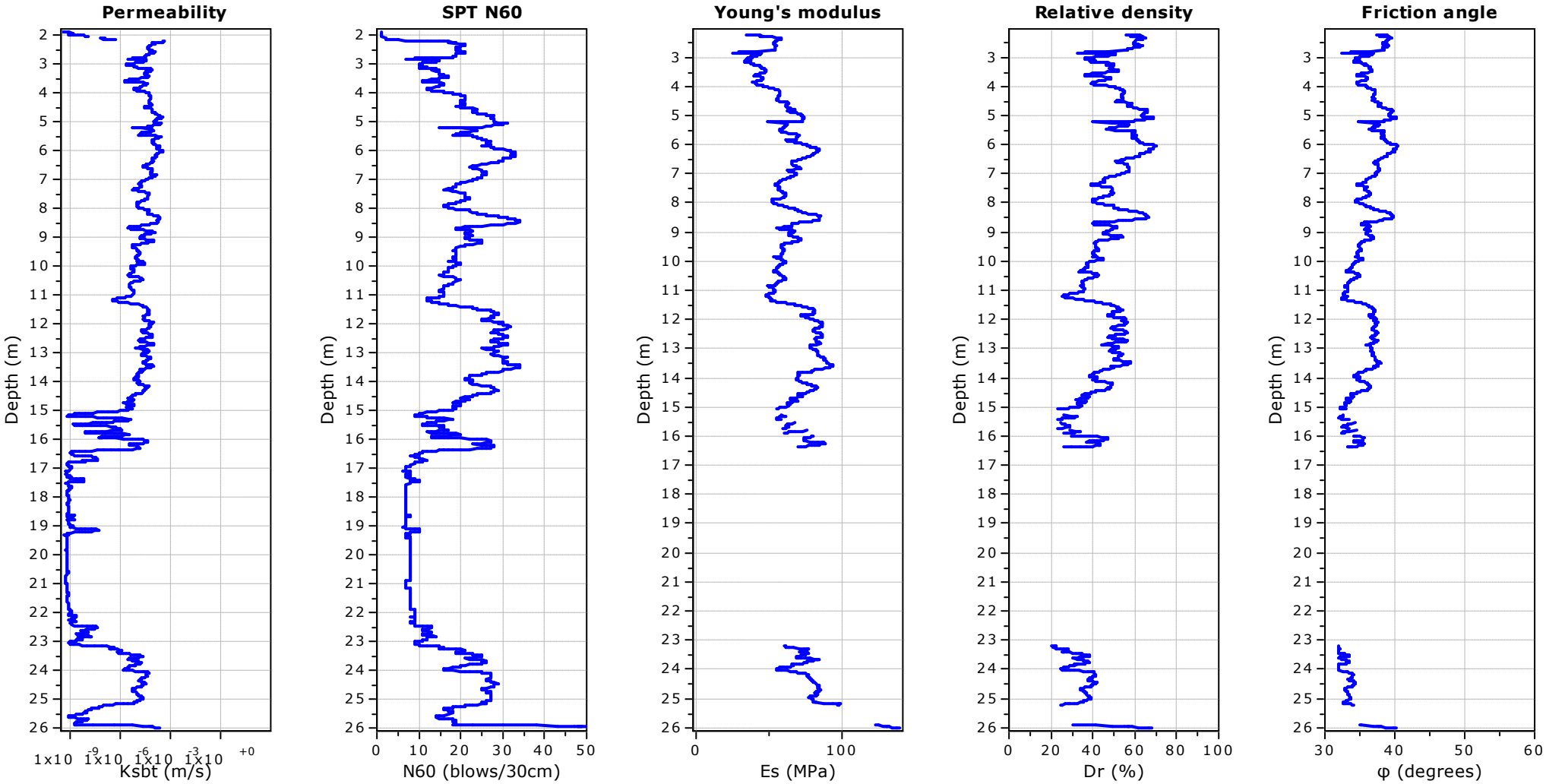

Calculation parameters

Permeability: Based on SBT_n
SPT N_{60}: Based on I_c and q_t
Young's modulus: Based on variable alpha using I_c (Robertson, 2009)
Relative density constant, C_{Dr}: 350.0
Phi: Based on Kulhawy & Mayne (1990)

CPT: cptu5
Total depth: 26.01 m, Date: 04/03/2026
Surface Elevation: 0.00 m, Est. GWL: 4.20 m
Coords: X:744158.15, Y:4046982.90
Cone Type:
Cone Operator:

Project: NUEVA TERMINAL DE CONTENEDORES FASE 1.2
Location: PUERTO DE CÁDIZ. CÁDIZ

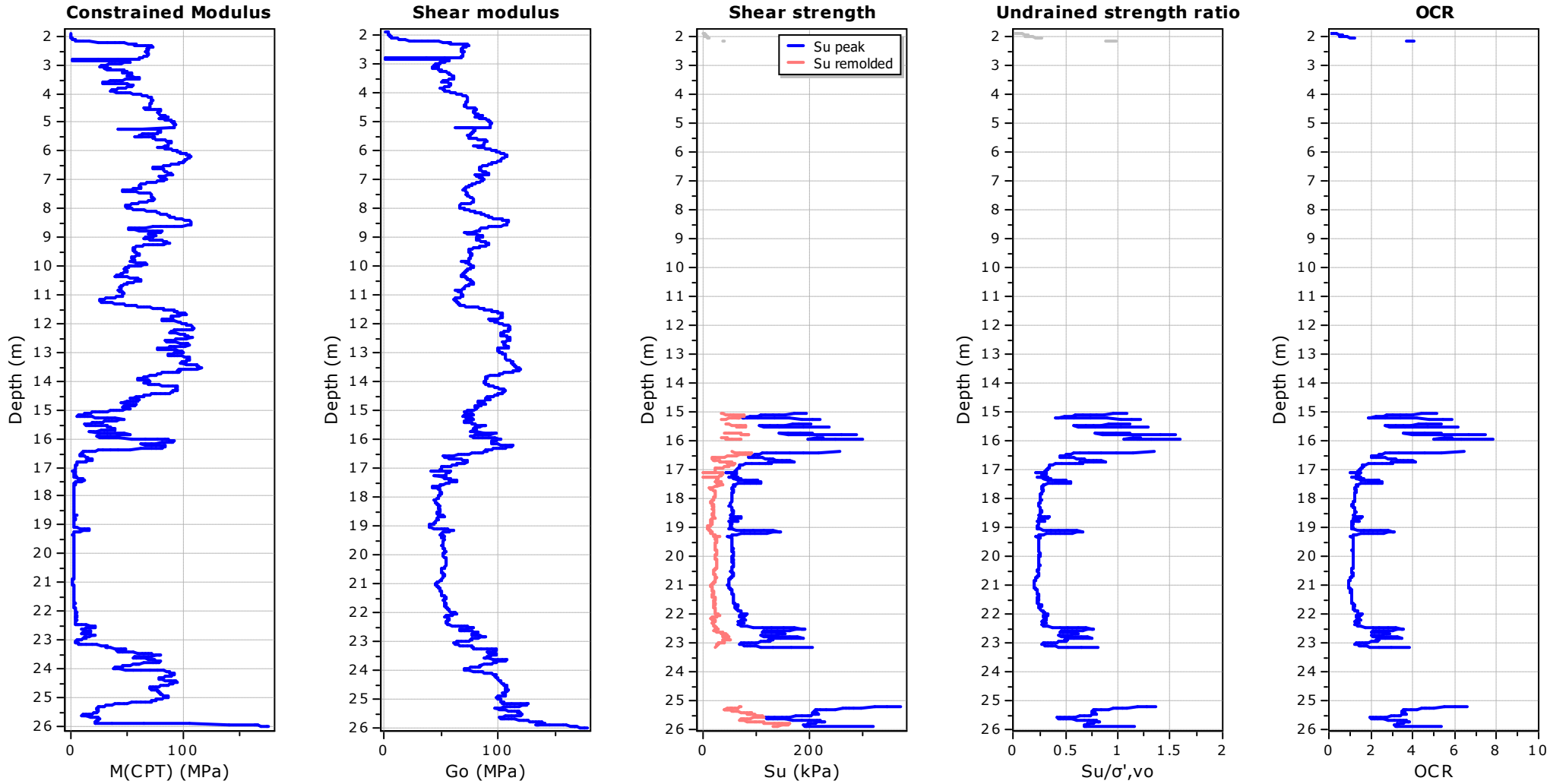

Calculation parameters

Constrained modulus: Based on variable *alpha* using I_c and Q_{tn} (Robertson, 2009)
Go: Based on variable *alpha* using I_c (Robertson, 2009)
Undrained shear strength cone factor for clays, N_{kt}: 14
OCR factor for clays, N_{kt}: 0.33
Flat Dilatometer Test data

CPT: cptu5
Total depth: 26.01 m, Date: 04/03/2026
Surface Elevation: 0.00 m, Est. GWL: 4.20 m
Coords: X:744158.15, Y:4046982.90
Cone Type:
Cone Operator:

Project: NUEVA TERMINAL DE CONTENEDORES FASE 1.2
Location: PUERTO DE CÁDIZ. CÁDIZ

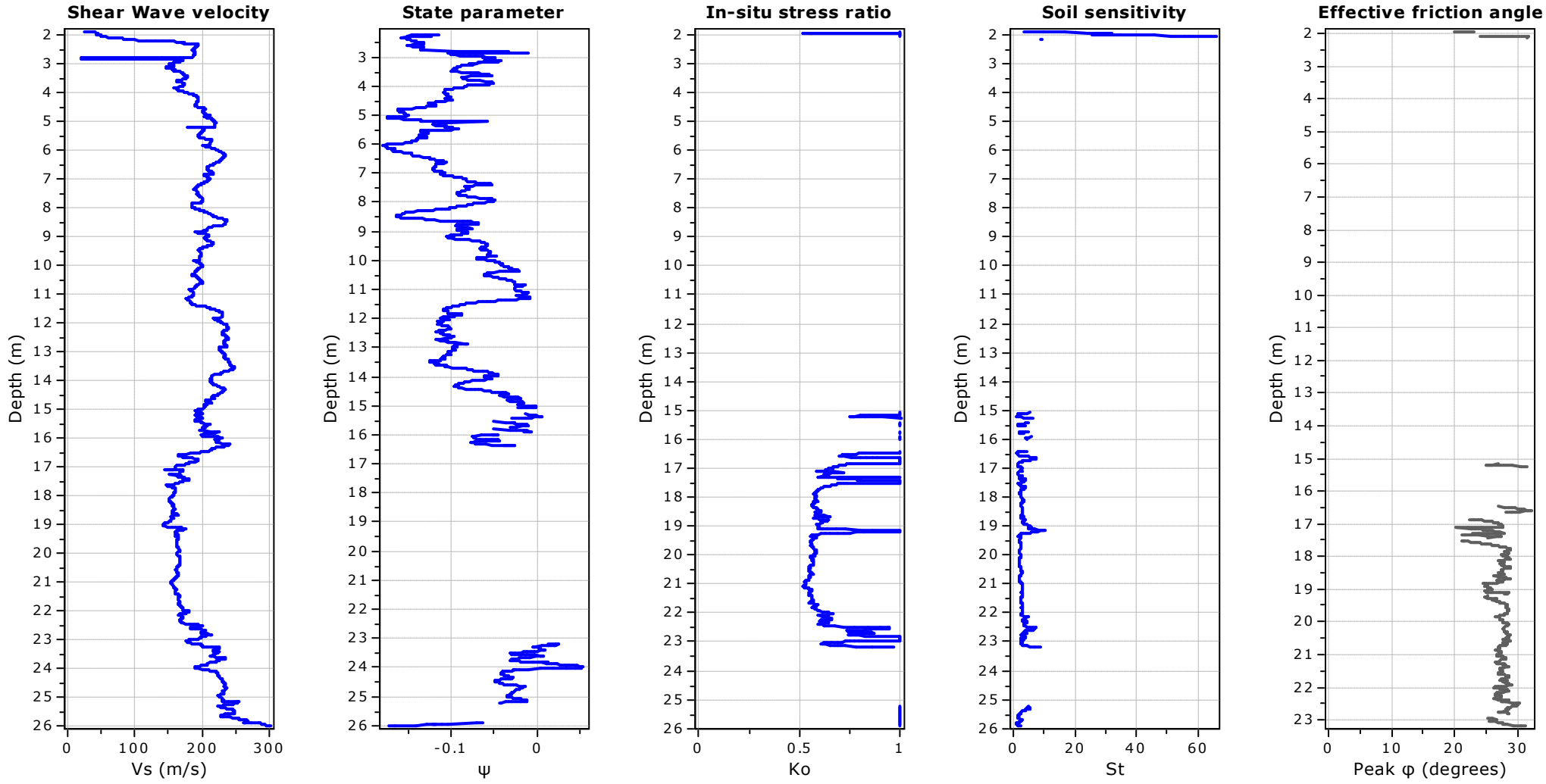

Calculation parameters

Soil Sensitivity factor, N_S: 7.00

CPT: cptu5
Total depth: 26.01 m, Date: 04/03/2026
Surface Elevation: 0.00 m, Est. GWL: 4.20 m
Coords: X:744158.15, Y:4046982.90
Cone Type:
Cone Operator:

Project: NUEVA TERMINAL DE CONTENEDORES FASE 1.2
Location: PUERTO DE CÁDIZ. CÁDIZ

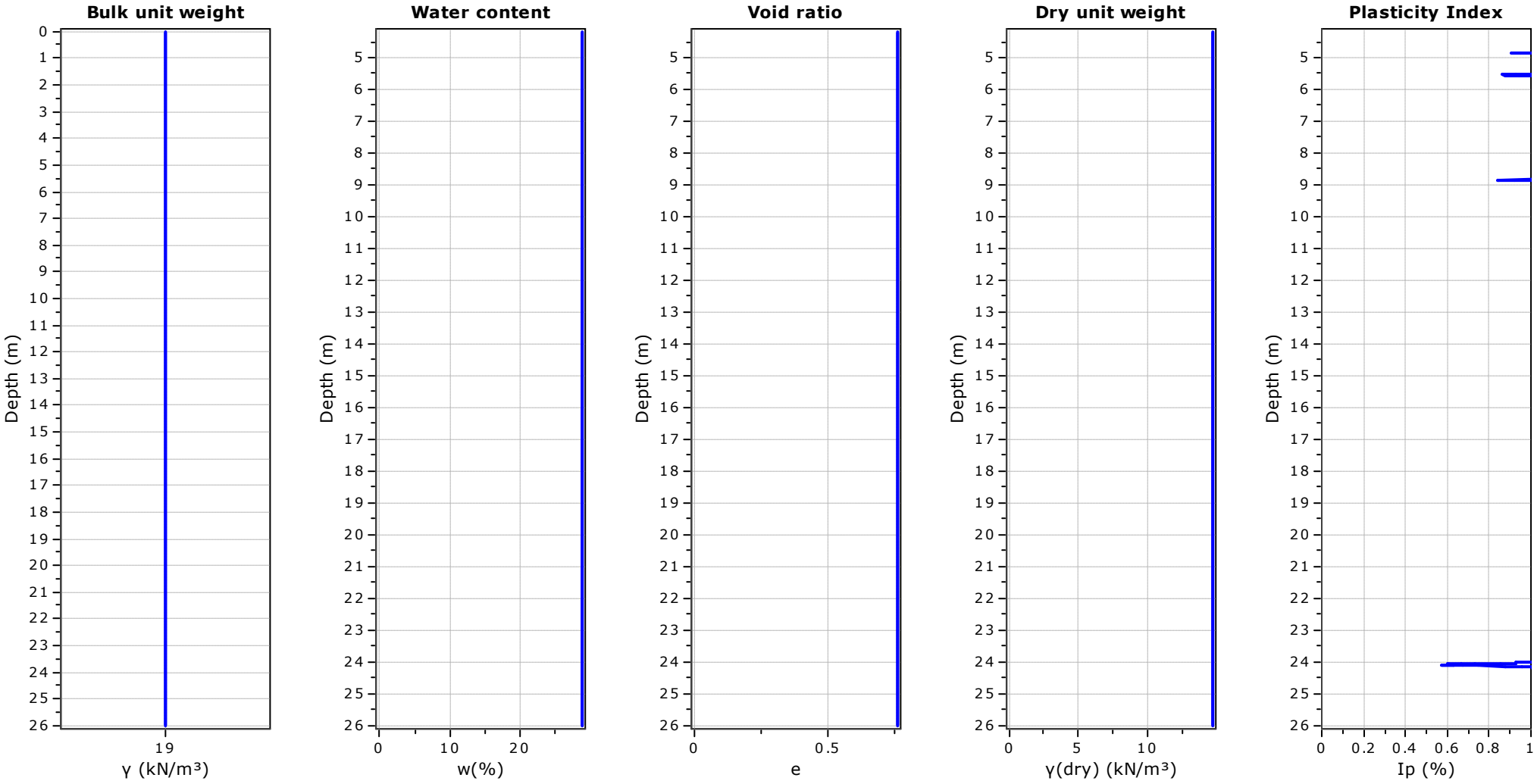

CPT: cptu5
Total depth: 26.01 m, Date: 04/03/2026
Surface Elevation: 0.00 m, Est. GWL: 4.20 m
Coords: X:744158.15, Y:4046982.90
Cone Type:
Cone Operator:
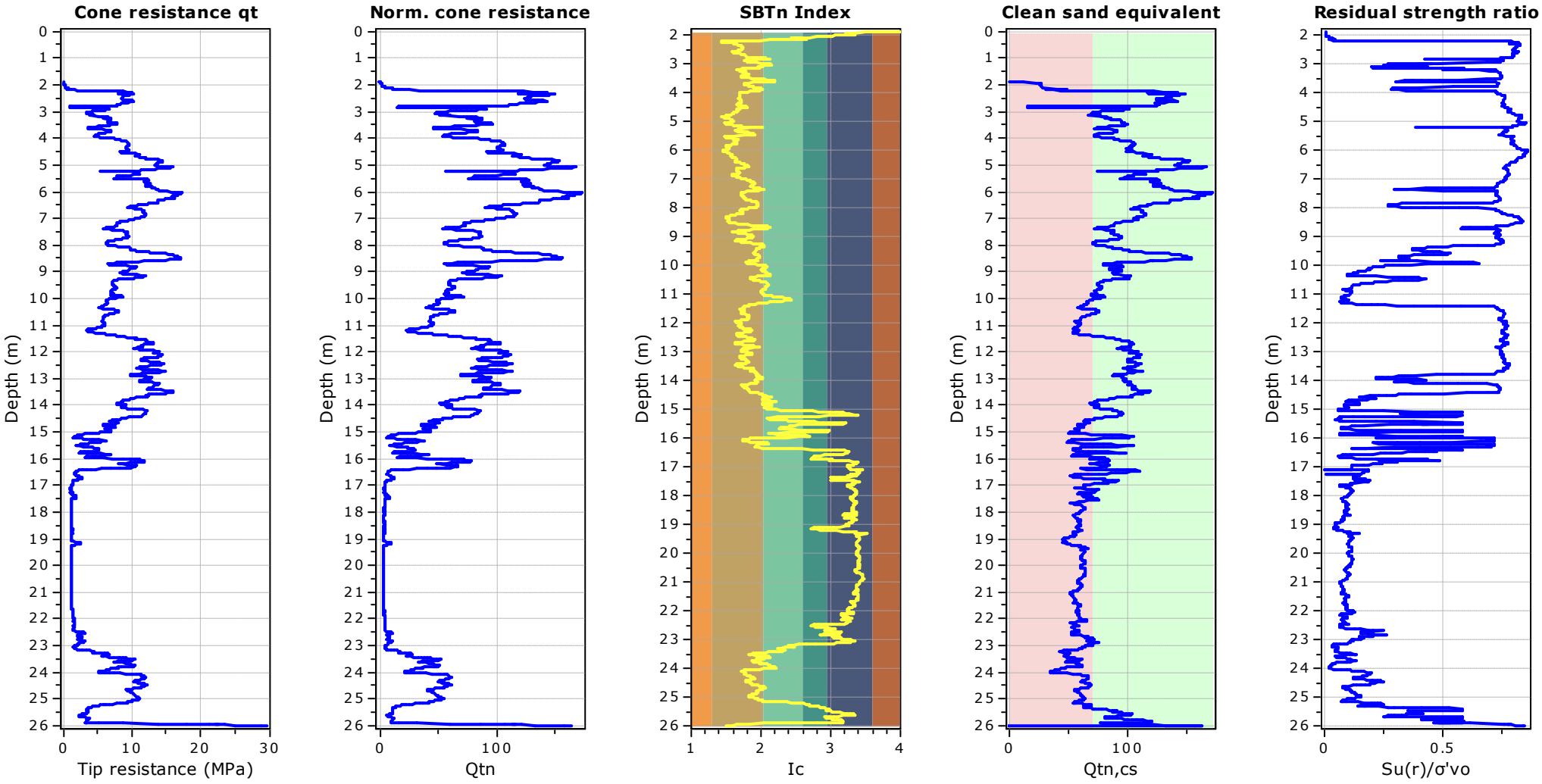
Project: NUEVA TERMINAL DE CONTENEDORES FASE 1.2
Location: PUERTO DE CÁDIZ. CÁDIZ